PYCLIMAEXPLORER

The Rapid-Prototype Interactive Visualizer for Climate Model Data

Team Name:- CTRL+ALT+ELITE

THE PROBLEM (THE "DATA BARRIER")

The Bottleneck in Climate Science
Climate researchers and the public are currently facing three major hurdles when dealing with simulation outputs .

The Technical Wall: Most climate data is stored in N-dimensional arrays (.nc files). If you don't know Python or R, you can't even "open" the file to see what's inside.

The "Boilerplate" Burnout: Even for experts, writing code to slice a specific time-range and generate a heatmap takes time. In a fast-paced research environment, **latency kills insight.**

Static vs. Dynamic: Traditional reports provide static images. You can't "zoom in" on a specific heatwave in Odisha or "scroll" through 30 years of precipitation trends in real-time.

The Reality: We are drowning in high-quality data but starving for accessible, real-time visualization tools.

THE SOLUTION (PYCLIMAEXPLORER)

Empowering Data with Instant Interactivity
PyClimaExplorer is a lightweight, high-performance web dashboard designed to turn "Data-Heavy" into "Data-Driven."

Universal Ingestion: Drop in any standard .nc file (NetCDF) and the app automatically parses dimensions and variables.

Real-Time Slicing: Use **Xarray** to instantly filter through decades of data without the memory overhead of traditional tools.

Intuitive UX: A researcher-first interface built with **Streamlit** that replaces complex scripts with interactive sliders and dropdowns.

Multimodal Visualization: Toggle between global spatial heatmaps and local temporal trends in one unified view.

Our Goal: From raw file upload to scientific visualization in **under 60 seconds.**

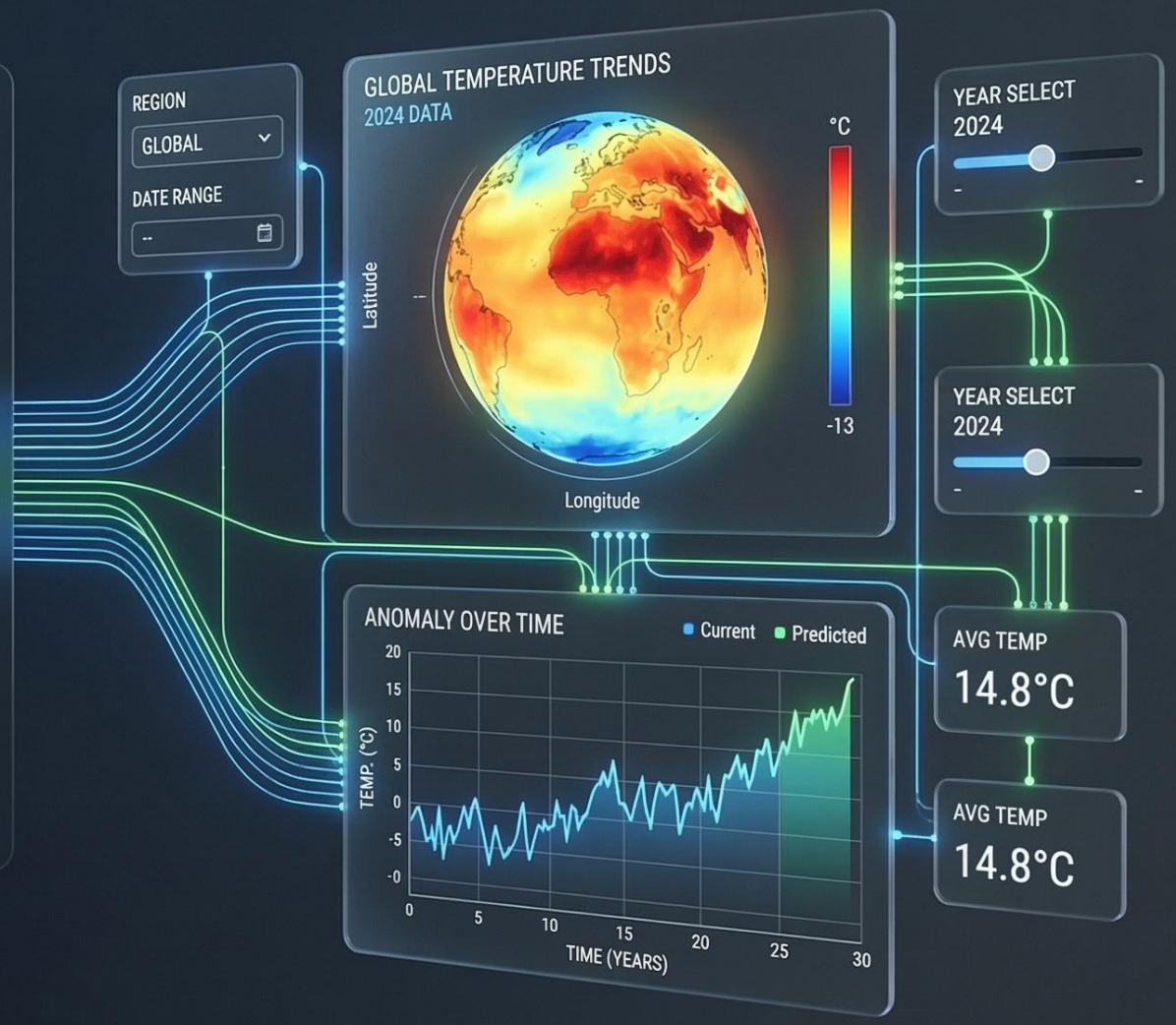

KEY FEATURES & FUNCTIONALITY

The Power of Two Views

PyClimaExplorer provides a dual-perspective analysis of climate datasets, allowing for both global patterns and local precision.

1. Spatial View (The Global Snapshot):

- **Dynamic Heatmaps:** Render global variables (Temperature, Sea Level, Precipitation) for any specific time-slice.
- **Interactive Color Scaling:** Uses diverging color maps (e.g., RdBu) to instantly highlight anomalies.
- **Zoom & Pan:** High-resolution rendering that allows users to drill down from a global view to a regional scale.

2. Temporal View (The Timeline):

- **Point-Specific Extraction:** Select any Latitude/Longitude to generate a 1D time-series graph.
- **Trend Identification:** Instantly visualize seasonal cycles, long-term warming trends, or extreme weather events over decades.
- **Statistical Overlay:** (Optional) View mean, min, and max values for the selected coordinate.

One Dataset, Infinite Perspectives.

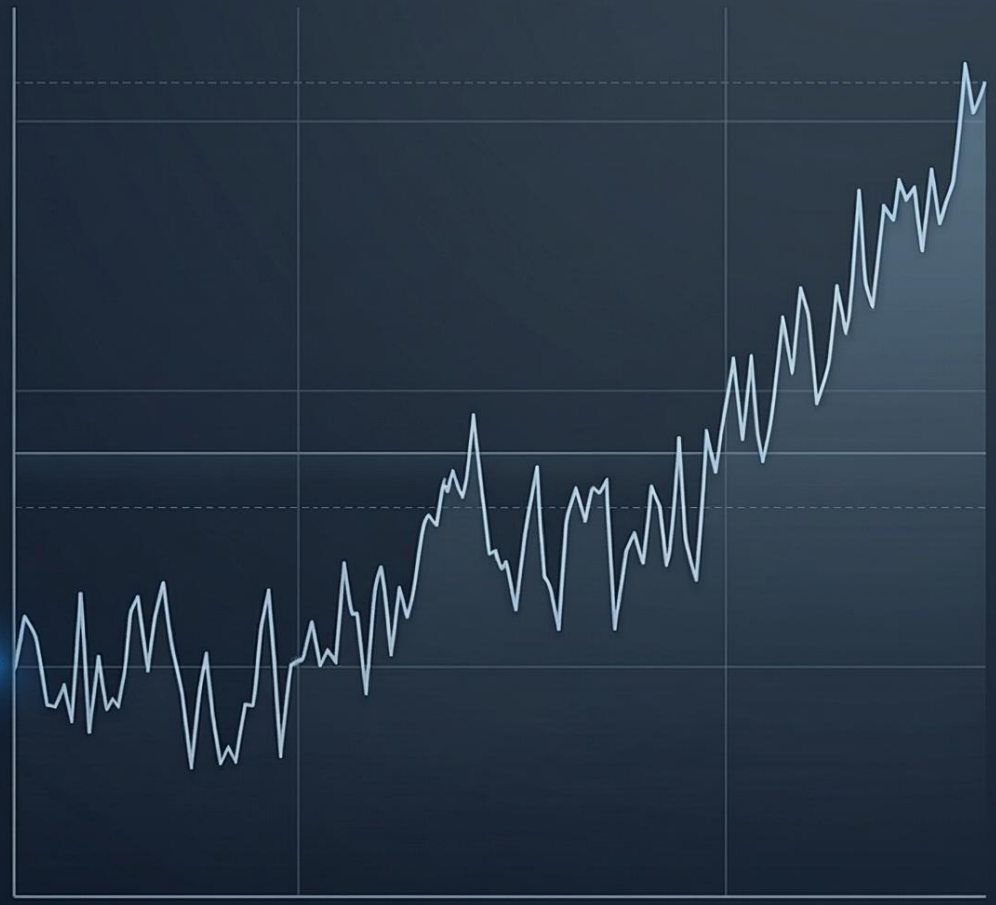

THE TECH STACK & ARCHITECTURE

Engineered for Speed and Scale
PyClimaExplorer leverages the most powerful libraries in the Python data ecosystem to handle massive multi-dimensional arrays efficiently.

Data Processing: Xarray & Dask – Handles N-dimensional metadata and enables lazy loading, meaning we only process the data the user is actually looking at.

Web Framework: Streamlit – A reactive frontend that allows for rapid UI iteration and instant deployment.

Visualization: Plotly – Provides GPU-accelerated, interactive charting for smooth zooming and panning.

Environment: Python 3.12+, NetCDF4, and NumPy.

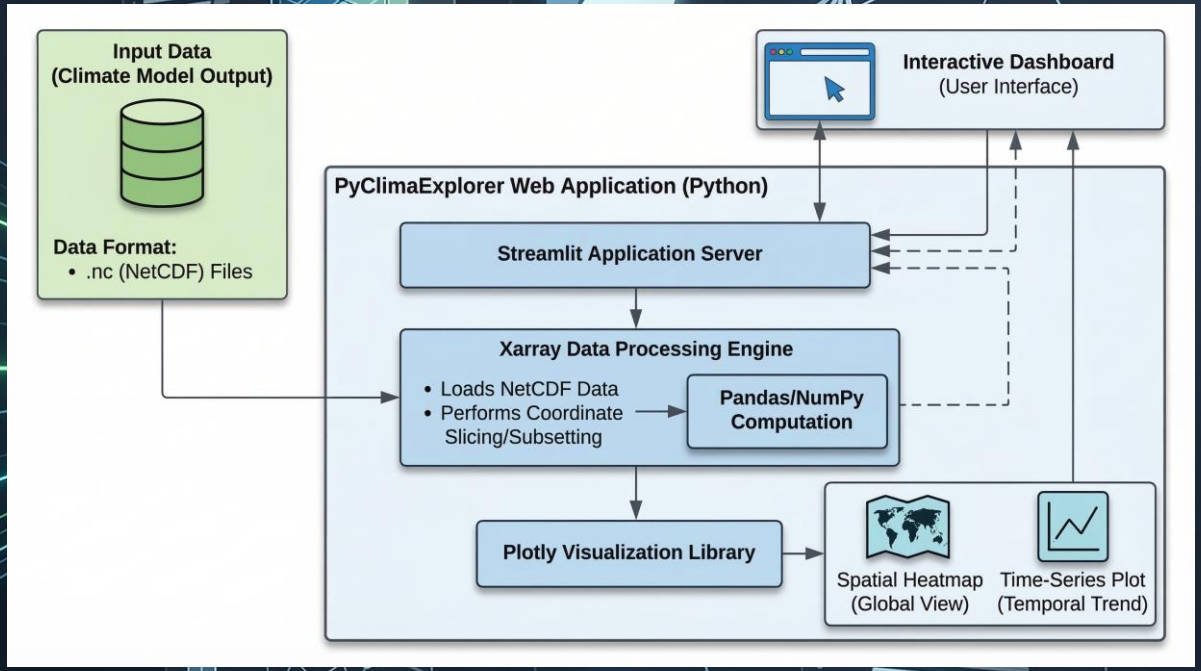

IMPACT & FUTURE ROADMAP

From Data to Decisions
PyClimaExplorer isn't just a visualizer; it’s a gateway to climate resilience.

Immediate Impact:
Democratic Data: Removes the "Coding Tax" for researchers, educators, and policy analysts.

Rapid Discovery: Reduces the time to identify climate anomalies from hours to seconds.

Open Source Foundation: Built on a stack that is free, scalable, and community-driven.

The Roadmap (Phase 2):
3D Digital Twin: Integrating **PyDeck** for a high-fidelity, interactive 3D globe experience.
Predictive Analytics: Adding a Scikit-learn layer to forecast local trends based on historical NetCDF data.
"Climate Story" Mode: A guided walkthrough feature that highlights specific global events (e.g., El Nino patterns or Arctic melt) for public outreach.
API Integration: Direct connection to live data streams from **ERA5** and **Google Earth Engine**.

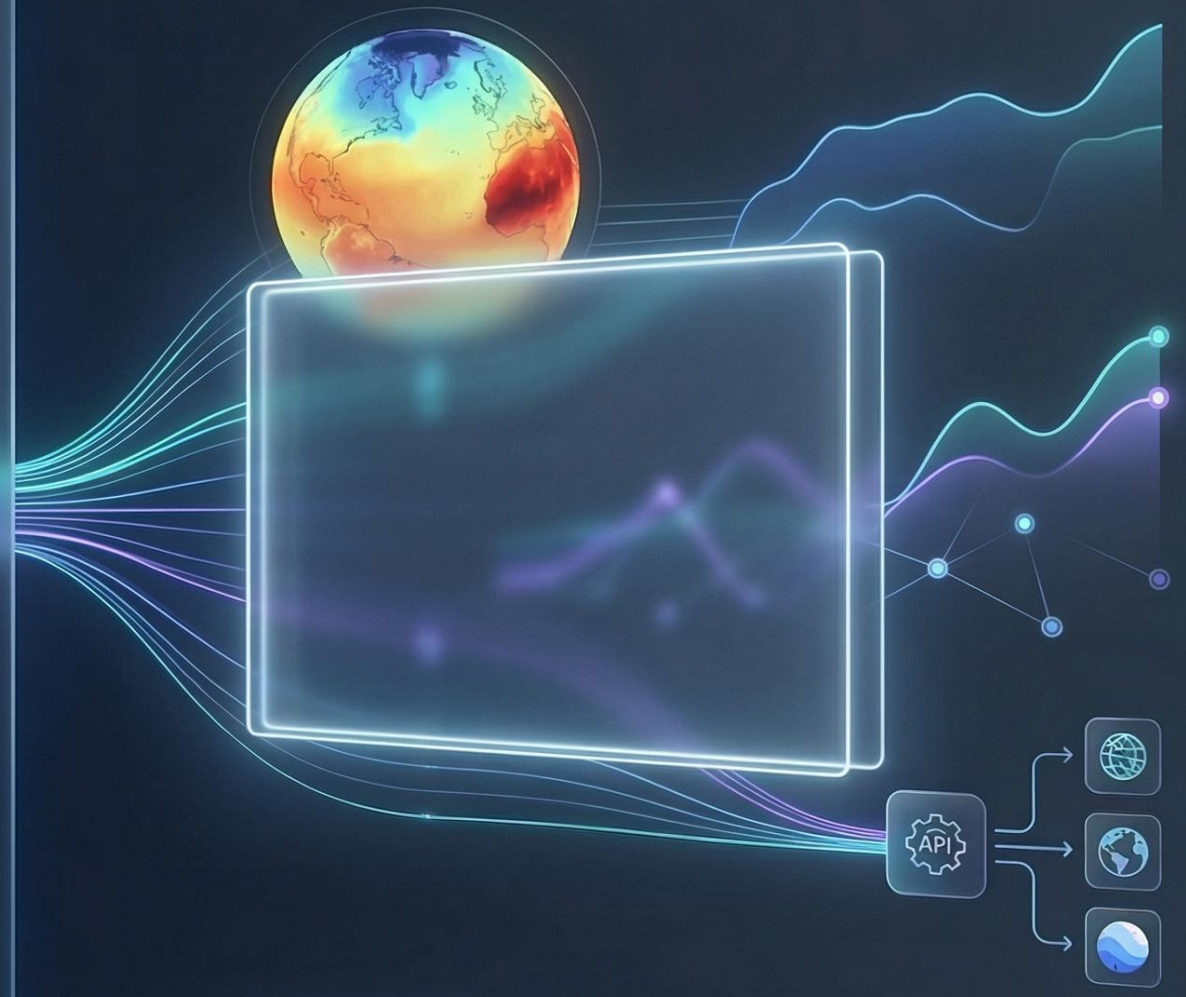

THANK YOU